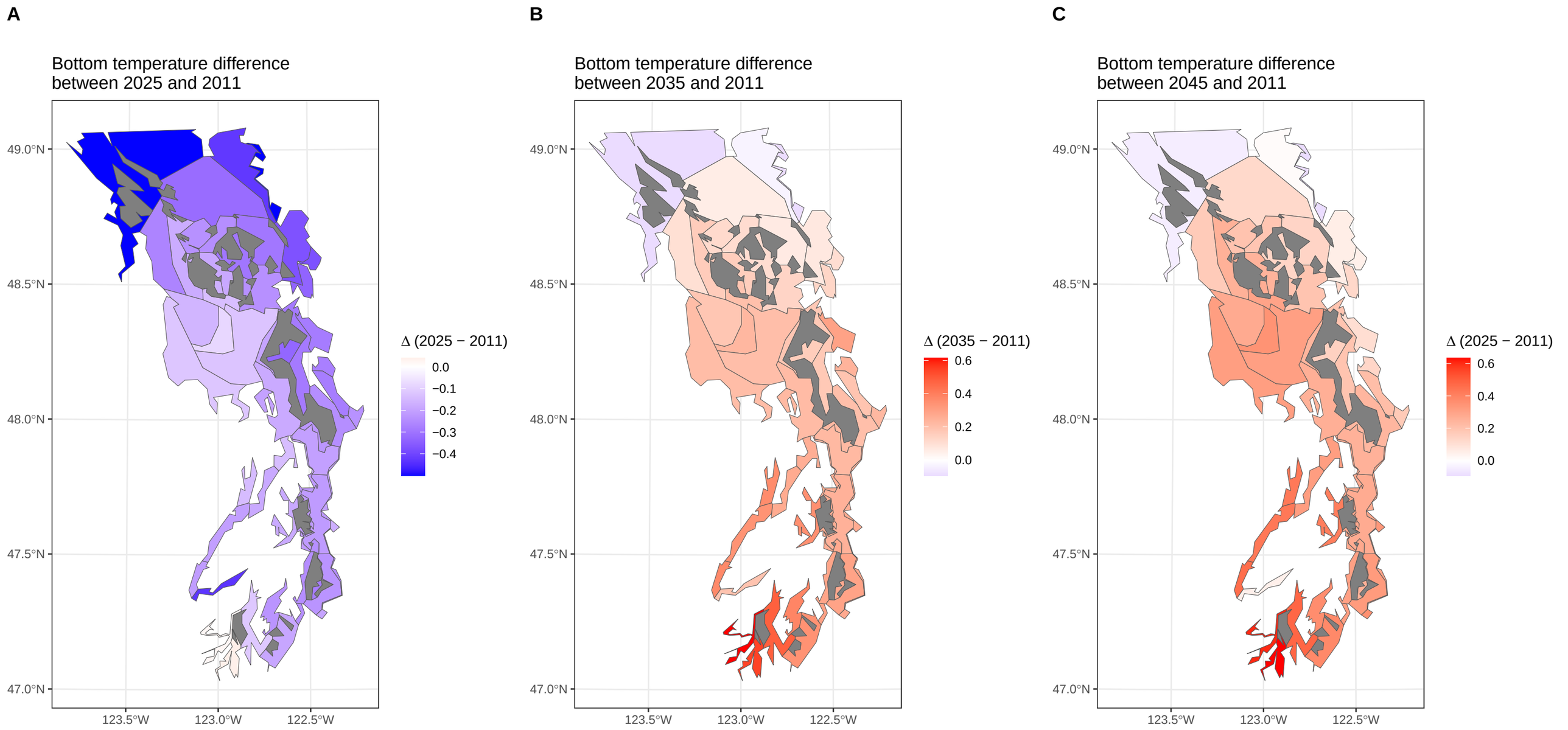
A
Bottom temperature difference
between 2025 and 2011
49.0°N
48.5°N
48.0°N
47.5°N
47.0°N
123.5°W
123.0°W
122.5°W
Δ (2025 − 2011)
0.0
−0.1
−0.2
−0.3
−0.4
B
Bottom temperature difference
between 2035 and 2011
49.0°N
48.5°N
48.0°N
47.5°N
47.0°N
123.5°W
123.0°W
122.5°W
Δ (2035 − 2011)
0.6
0.4
0.2
0.0
C
Bottom temperature difference
between 2045 and 2011
49.0°N
48.5°N
48.0°N
47.5°N
47.0°N
123.5°W
123.0°W
122.5°W
Δ (2025 − 2011)
0.6
0.4
0.2
0.0

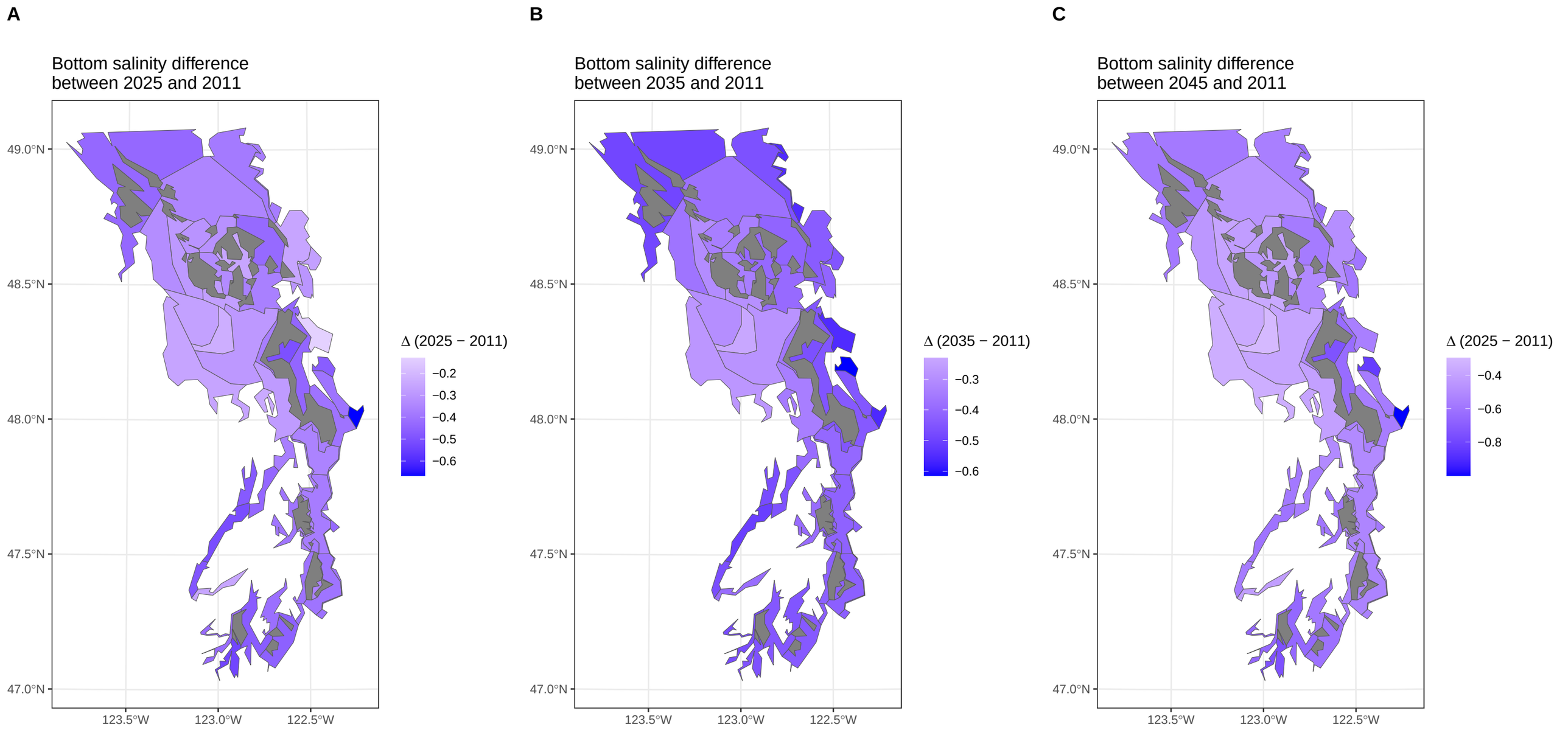
A
Bottom salinity difference
between 2025 and 2011
49.0°N
48.5°N
48.0°N
47.5°N
47.0°N
123.5°W
123.0°W
122.5°W
Δ (2025 − 2011)
−0.2
−0.3
−0.4
−0.5
−0.6
B
Bottom salinity difference
between 2035 and 2011
49.0°N
48.5°N
48.0°N
47.5°N
47.0°N
123.5°W
123.0°W
122.5°W
Δ (2035 − 2011)
−0.3
−0.4
−0.5
−0.6
C
Bottom salinity difference
between 2045 and 2011
49.0°N
48.5°N
48.0°N
47.5°N
47.0°N
123.5°W
123.0°W
122.5°W
Δ (2025 − 2011)
−0.4
−0.6
−0.8

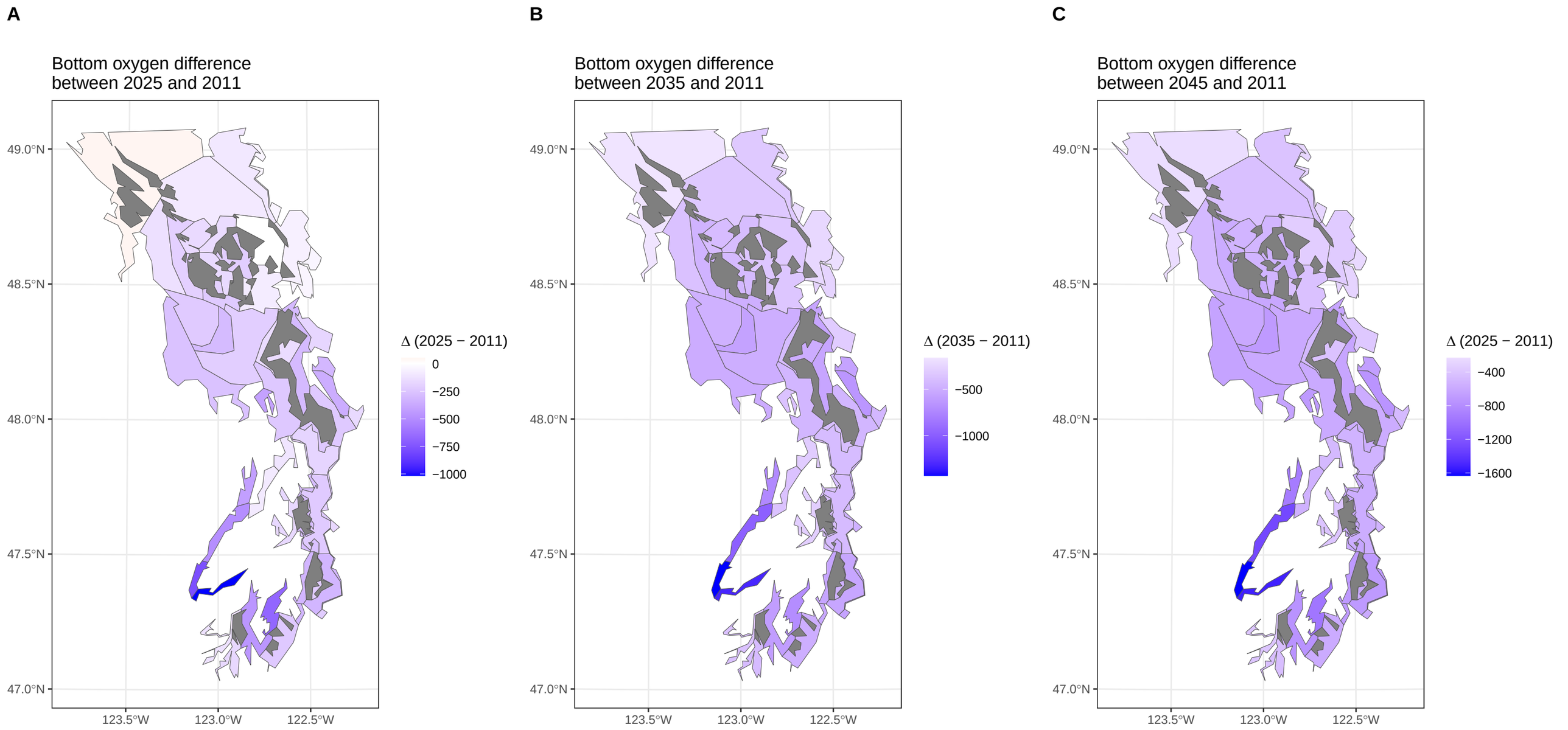
A
Bottom oxygen difference
between 2025 and 2011
49.0°N
48.5°N
48.0°N
47.5°N
47.0°N
123.5°W
123.0°W
122.5°W
Δ (2025 − 2011)
0
−250
−500
−750
−1000
B
Bottom oxygen difference
between 2035 and 2011
49.0°N
48.5°N
48.0°N
47.5°N
47.0°N
123.5°W
123.0°W
122.5°W
Δ (2035 − 2011)
−500
−1000
C
Bottom oxygen difference
between 2045 and 2011
49.0°N
48.5°N
48.0°N
47.5°N
47.0°N
123.5°W
123.0°W
122.5°W
Δ (2025 − 2011)
−400
−800
−1200
−1600

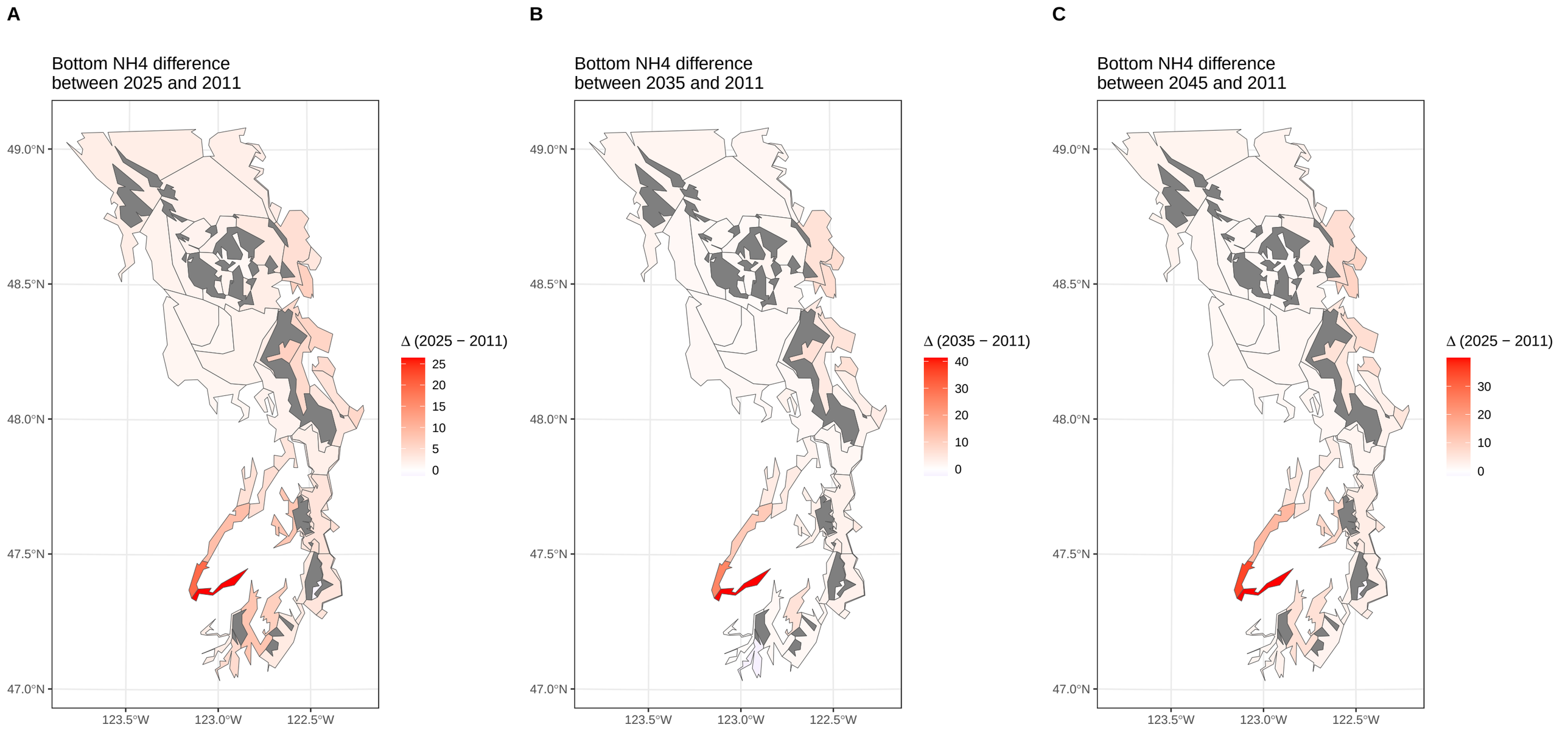
A
Bottom NH4 difference
between 2025 and 2011
49.0°N
48.5°N
48.0°N
47.5°N
47.0°N
123.5°W
123.0°W
122.5°W
Δ (2025 − 2011)
25
20
15
10
5
0
B
Bottom NH4 difference
between 2035 and 2011
49.0°N
48.5°N
48.0°N
47.5°N
47.0°N
123.5°W
123.0°W
122.5°W
Δ (2035 − 2011)
40
30
20
10
0
C
Bottom NH4 difference
between 2045 and 2011
49.0°N
48.5°N
48.0°N
47.5°N
47.0°N
123.5°W
123.0°W
122.5°W
Δ (2025 − 2011)
30
20
10
0

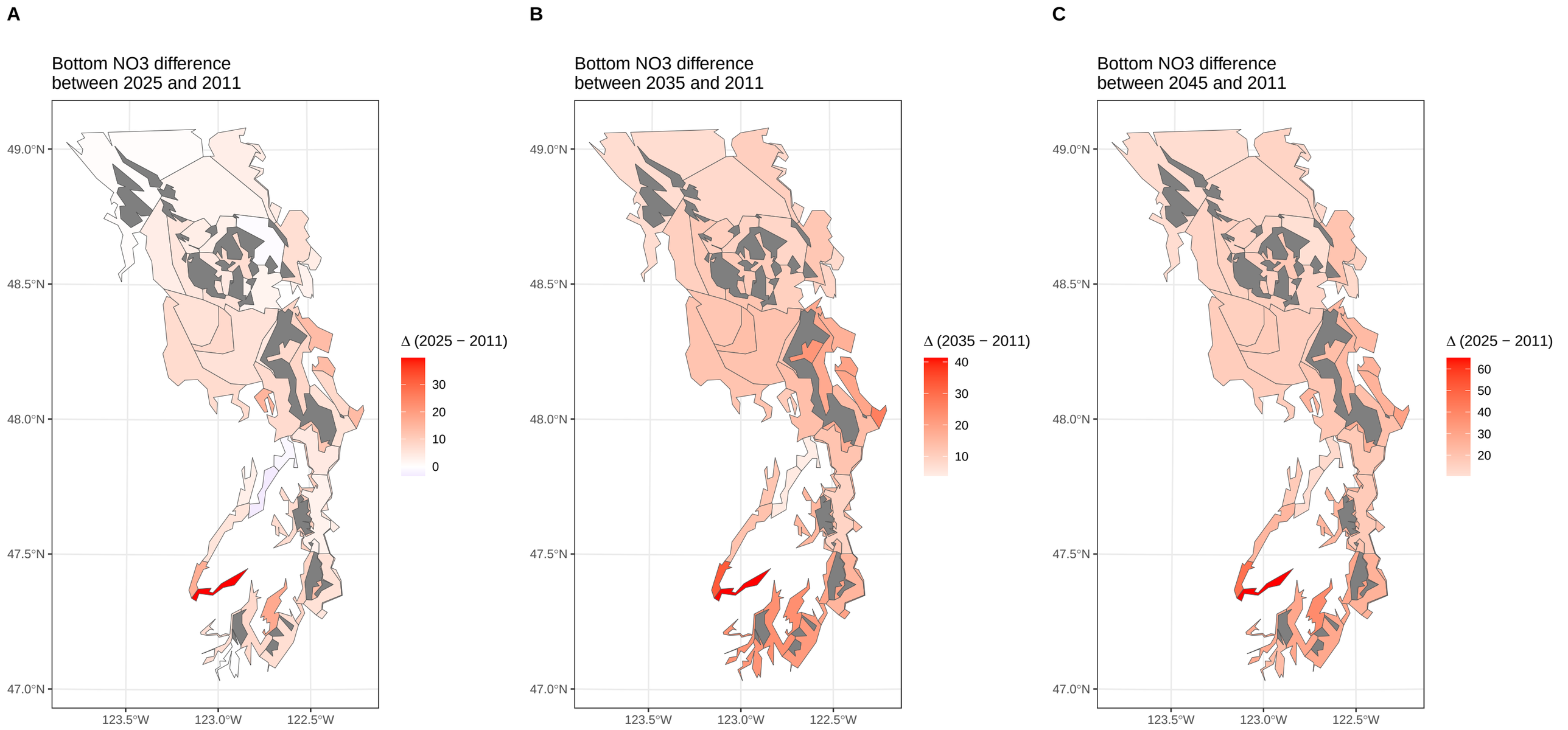
A
Bottom NO3 difference
between 2025 and 2011
49.0°N
48.5°N
48.0°N
47.5°N
47.0°N
123.5°W
123.0°W
122.5°W
Δ (2025 − 2011)
30
20
10
0
B
Bottom NO3 difference
between 2035 and 2011
49.0°N
48.5°N
48.0°N
47.5°N
47.0°N
123.5°W
123.0°W
122.5°W
Δ (2035 − 2011)
40
30
20
10
C
Bottom NO3 difference
between 2045 and 2011
49.0°N
48.5°N
48.0°N
47.5°N
47.0°N
123.5°W
123.0°W
122.5°W
Δ (2025 − 2011)
60
50
40
30
20

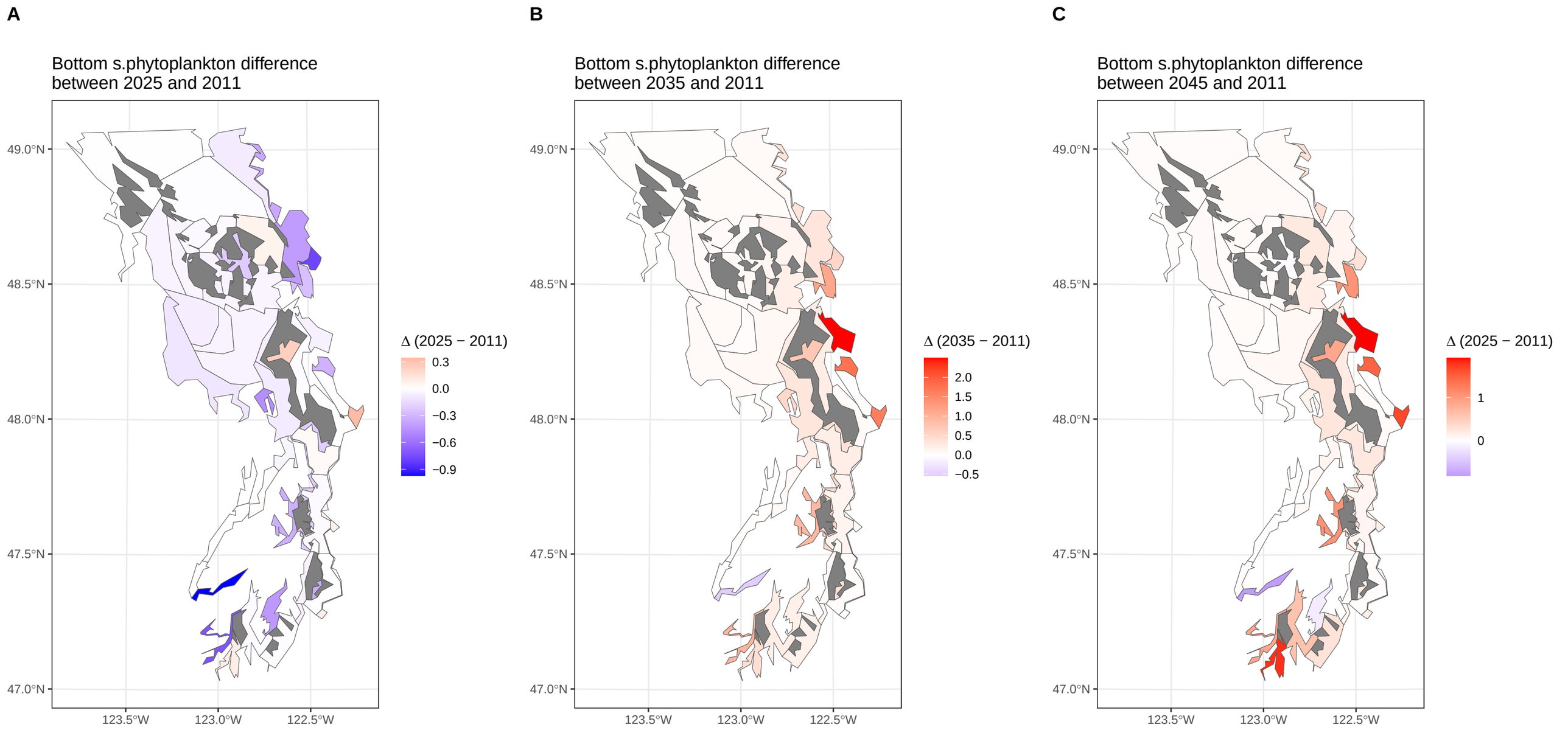
A
Bottom s.phytoplankton difference
between 2025 and 2011
49.0°N
48.5°N
48.0°N
47.5°N
47.0°N
123.5°W
123.0°W
122.5°W
Δ (2025 − 2011)
0.3
0.0
−0.3
−0.6
−0.9
B
Bottom s.phytoplankton difference
between 2035 and 2011
49.0°N
48.5°N
48.0°N
47.5°N
47.0°N
123.5°W
123.0°W
122.5°W
Δ (2035 − 2011)
2.0
1.5
1.0
0.5
0.0
−0.5
C
Bottom s.phytoplankton difference
between 2045 and 2011
49.0°N
48.5°N
48.0°N
47.5°N
47.0°N
123.5°W
123.0°W
122.5°W
Δ (2025 − 2011)
1
0

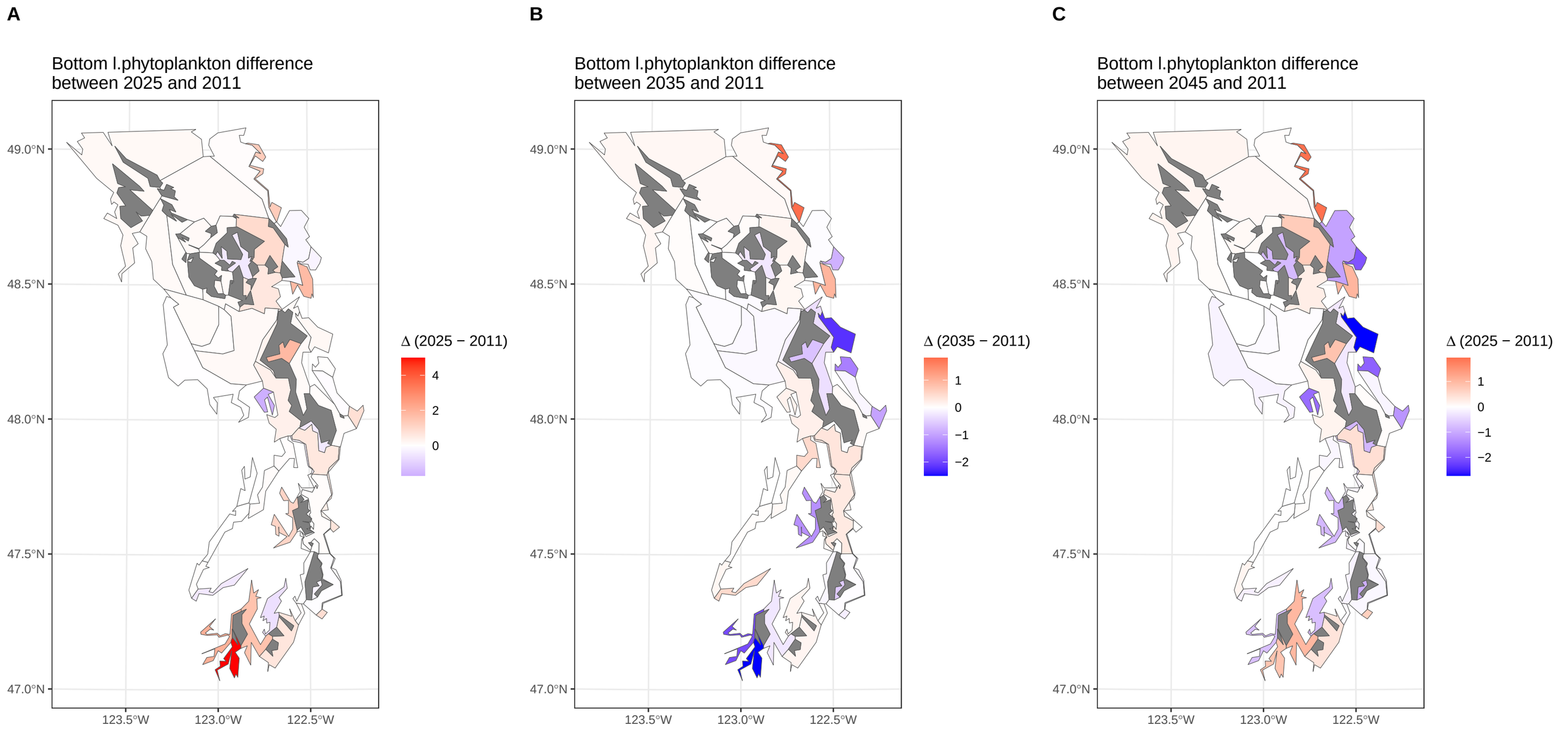
A
Bottom l.phytoplankton difference
between 2025 and 2011
49.0°N
48.5°N
48.0°N
47.5°N
47.0°N
123.5°W
123.0°W
122.5°W
Δ (2025 − 2011)
4
2
0
B
Bottom l.phytoplankton difference
between 2035 and 2011
49.0°N
48.5°N
48.0°N
47.5°N
47.0°N
123.5°W
123.0°W
122.5°W
Δ (2035 − 2011)
1
0
−1
−2
C
Bottom l.phytoplankton difference
between 2045 and 2011
49.0°N
48.5°N
48.0°N
47.5°N
47.0°N
123.5°W
123.0°W
122.5°W
Δ (2025 − 2011)
1
0
−1
−2